Province of Bukidnon

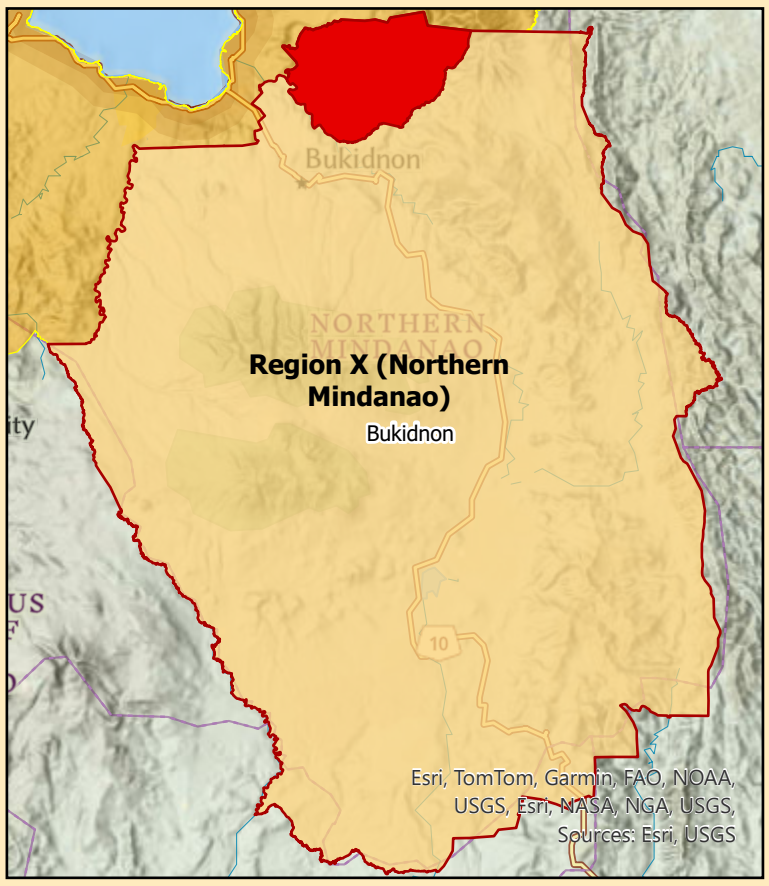

Region X (Northern Mindanao)

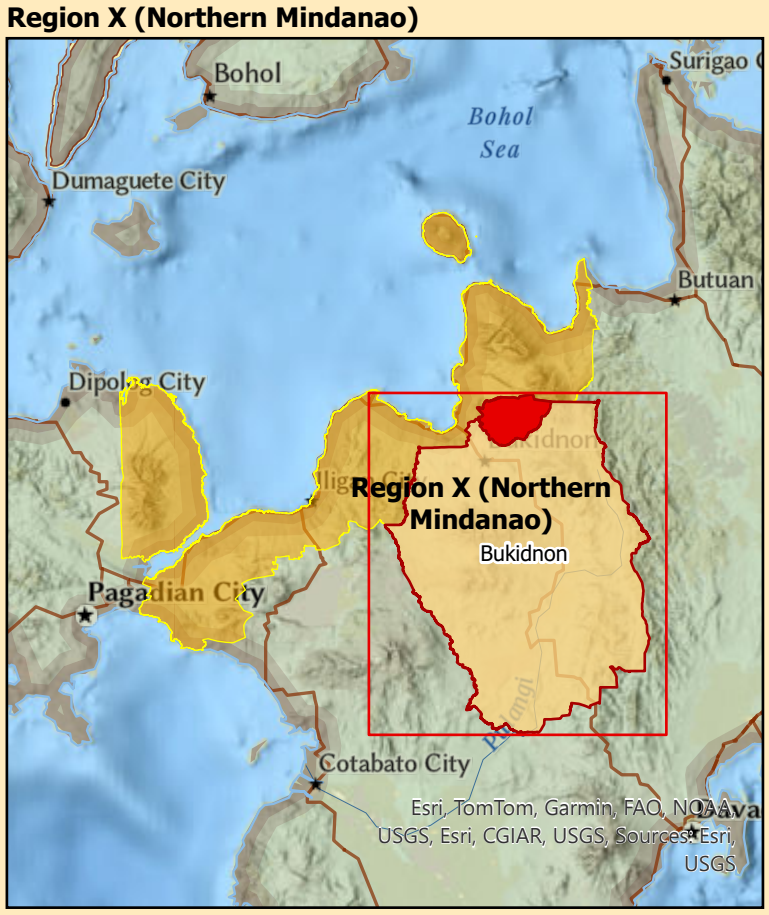

Municipality of Malitbog

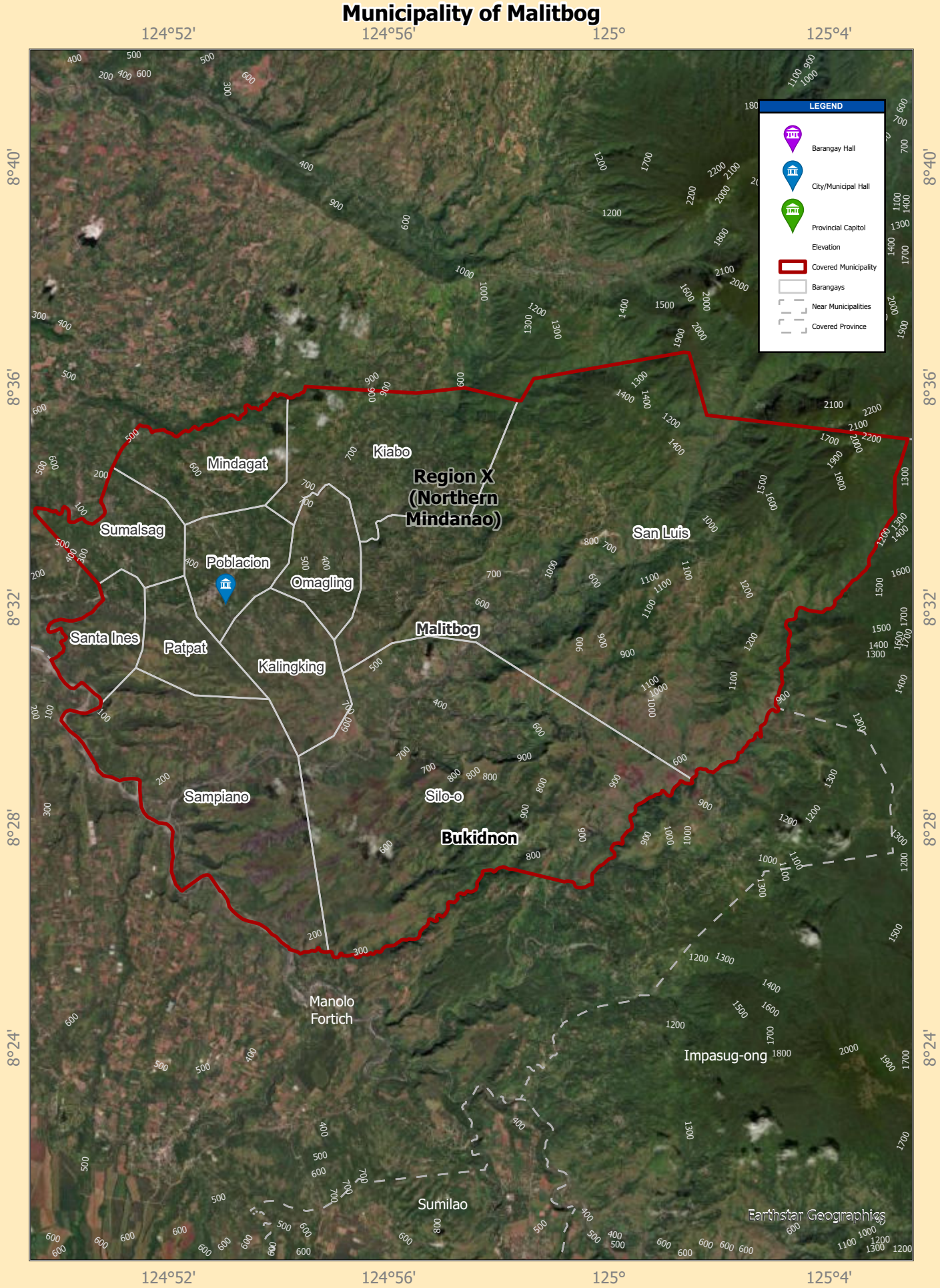

The Philippines

DEMOGRAPHICS:

SOURCES: Census-2020 by NSO and NSC Board.

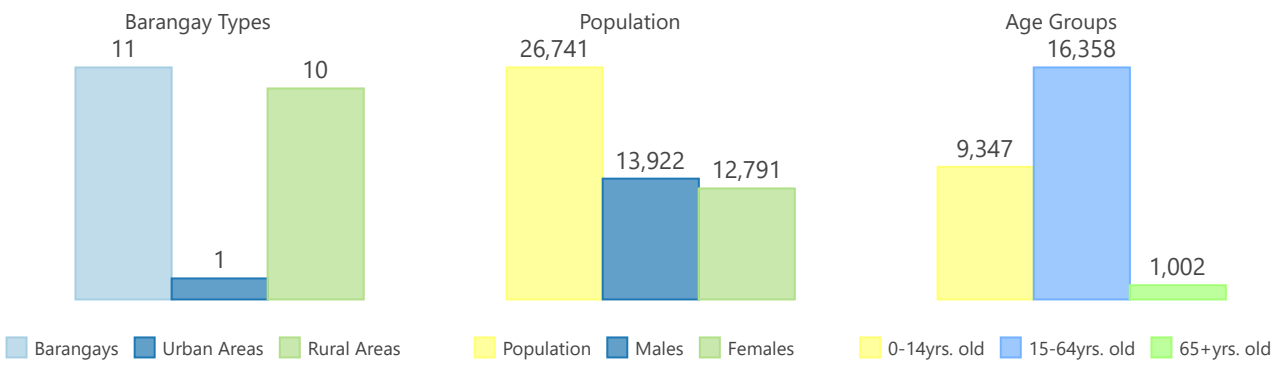

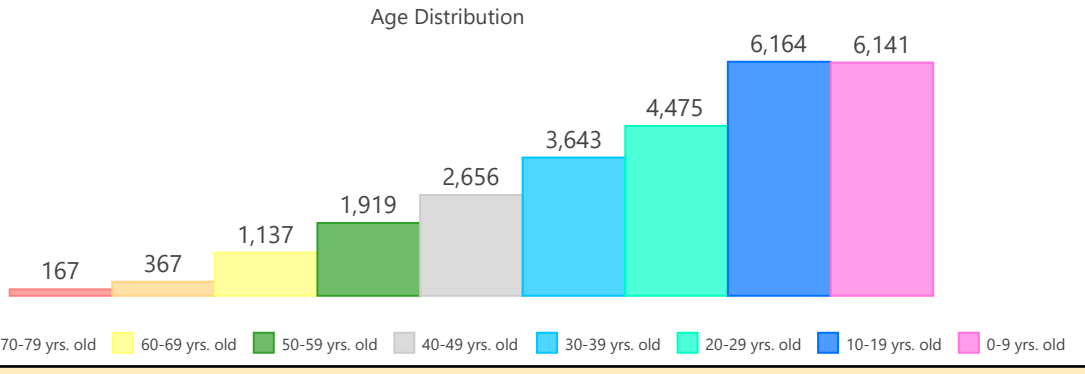

1.0 0.5 0 1.1 2.2 3.3 4.4
Kilometers
1:170,000

GEODETIC INFORMATION
Coordinate System: GCS PRS 1992
Map Datum: Philippine Reference System 1992
Angular Unit: Degree

Notes: The following platforms were used to generate this map:

Date Generated: May. 12, 2025
Paper Size: ISOA3(29.7cm x 42.0cm)
Prepared By:
Approved By:

Map Title:

Municipality of Malitbog

Bukidnon, Region X, Philippines

Visit our website at **www.JunLaSys.com** and social media accounts for more information:

Generated By:

Province of Bukidnon

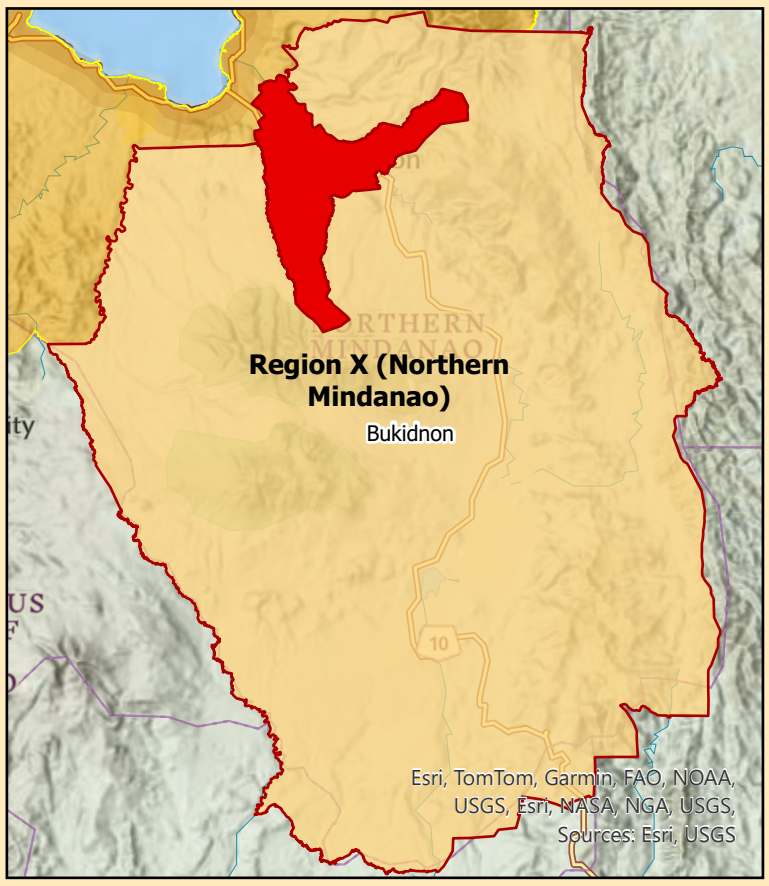

Region X (Northern Mindanao)

The Philippines

Municipality of Manolo Fortich

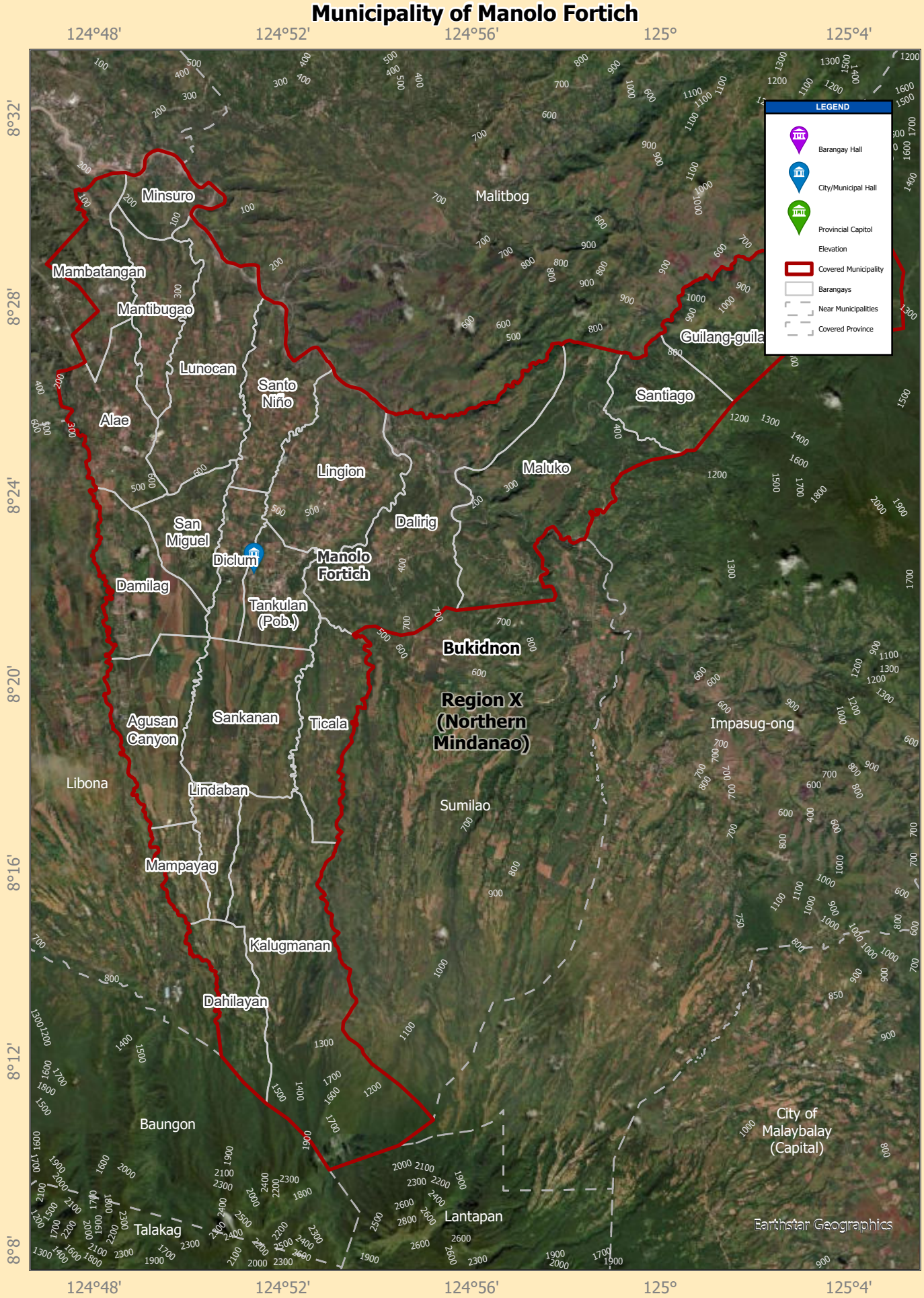

DEMOGRAPHICS:

SOURCES: Census-2020 by NSO and NSC Board.

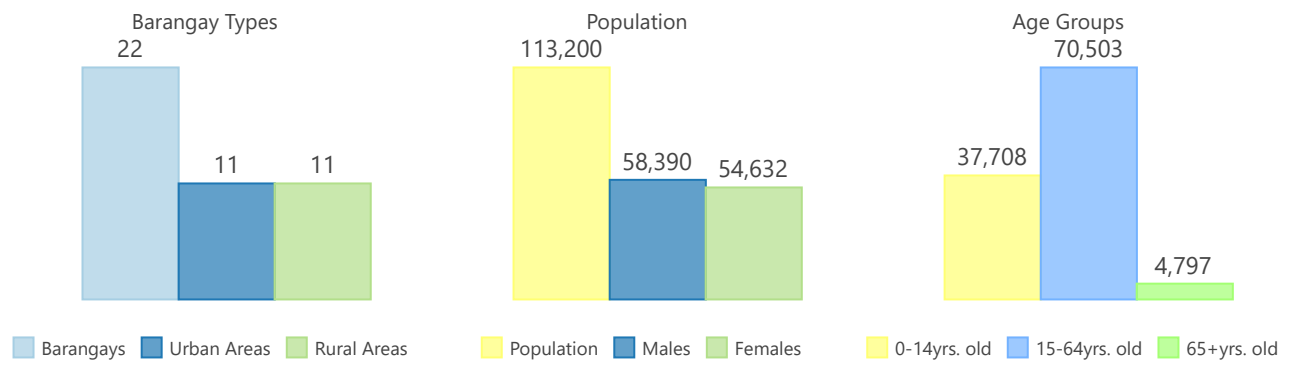

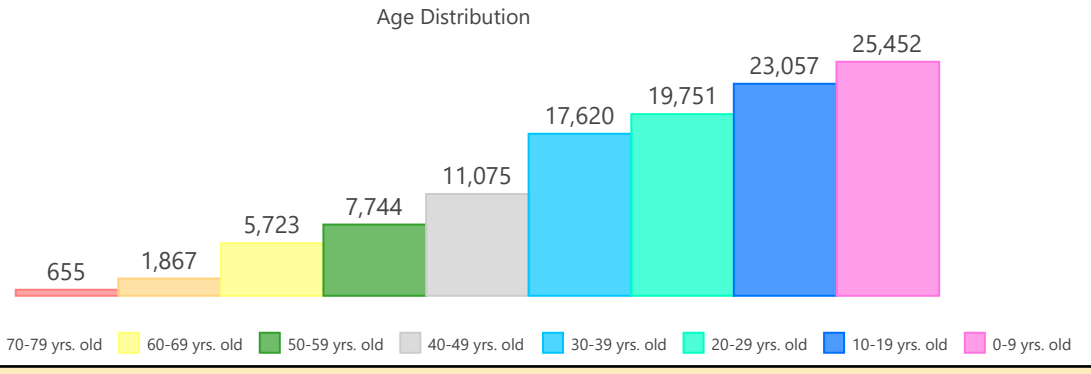

1.0 0.650 1.3 2.6 3.9 5.2
Kilometers
1:200,000

GEODETIC INFORMATION

Coordinate System: GCS PRS 1992
Map Datum: Philippine Reference System 1992
Angular Unit: Degree

Notes:
The following platforms were used to generate this map:

Date Generated: May. 12, 2025
Paper Size: ISOA3(29.7cm x 42.0cm)
Prepared By:
Approved By:

Map Title:

Manolo Fortich

Bukidnon, Region X, Philippines

Visit our website at **www.JunLaSys.com** and social media accounts for more information:

Generated By:

Province of Bukidnon

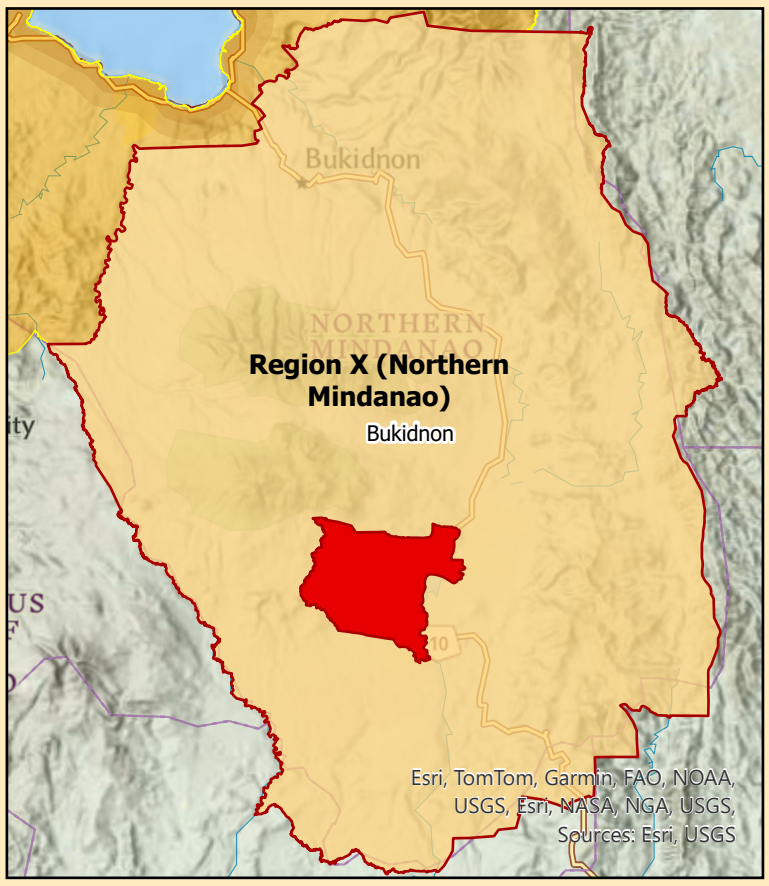

Region X (Northern Mindanao)

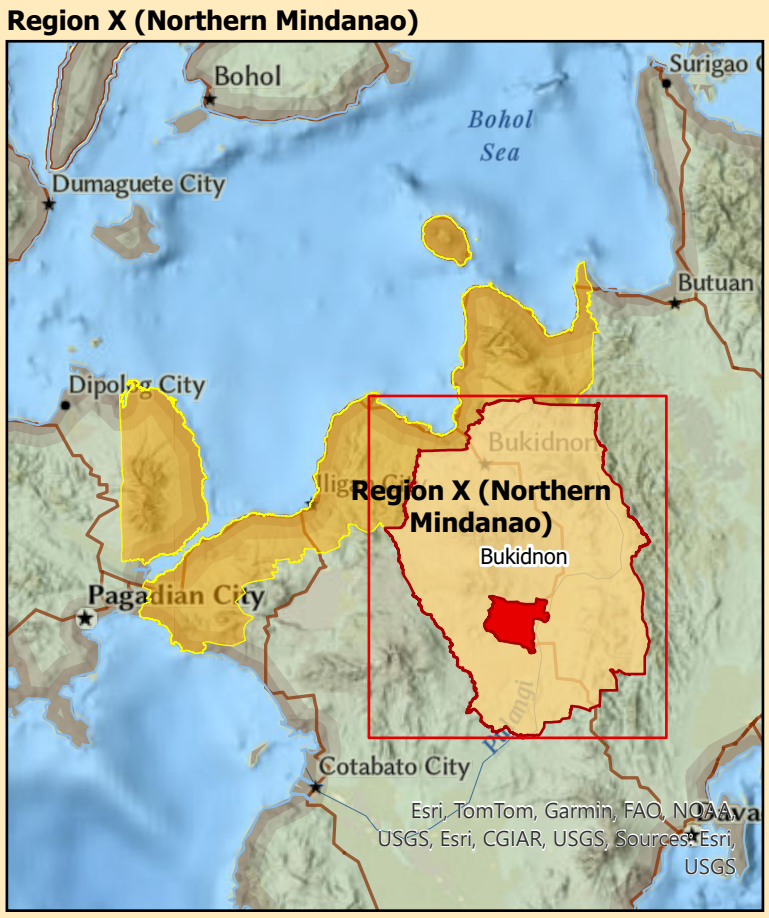

The Philippines

Municipality of Maramag

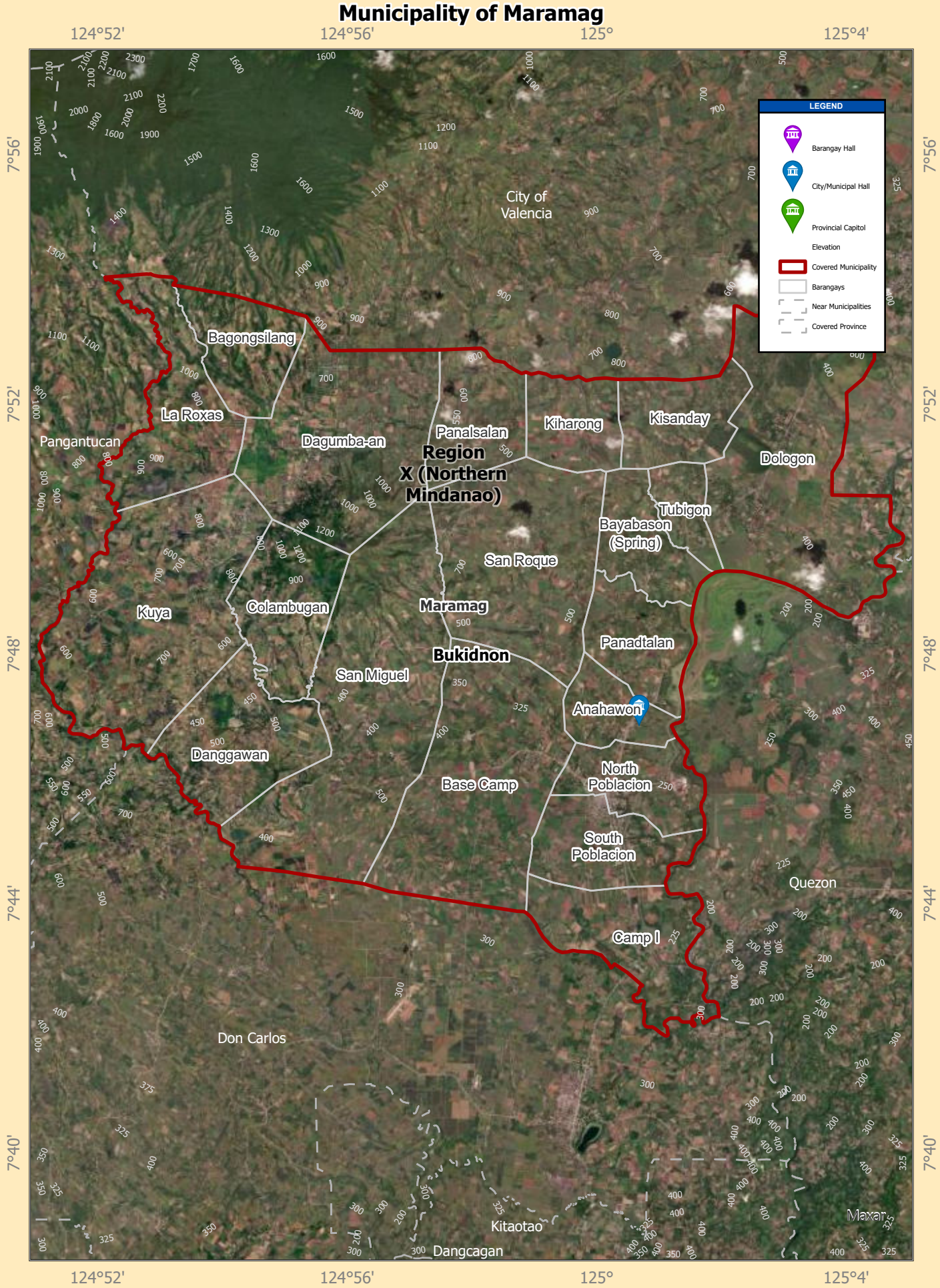

DEMOGRAPHICS:

SOURCES: Census-2020 by NSO and NSC Board.

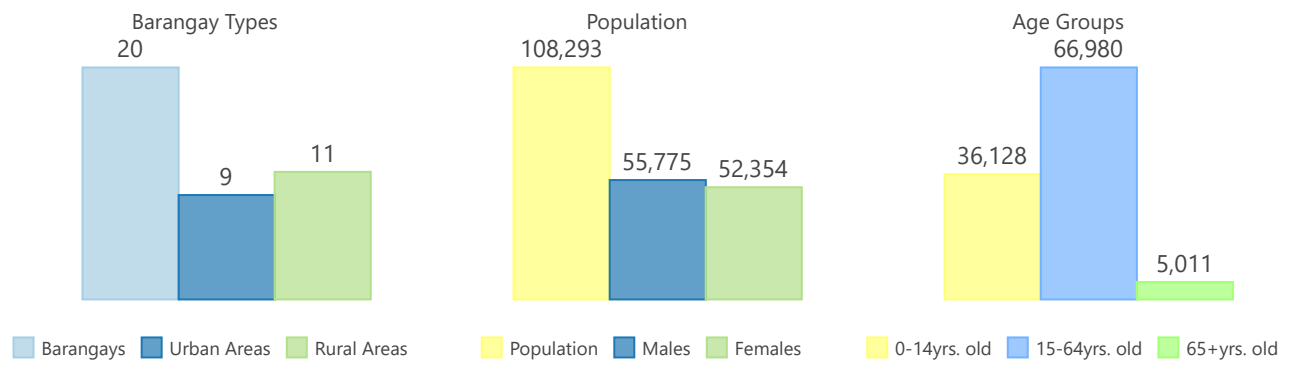

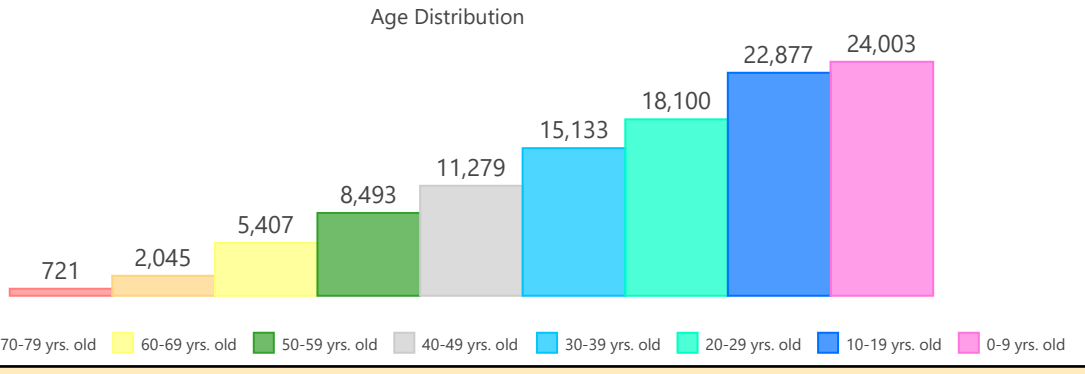

1.05 0.530 1.05 2.1 3.15 4.2
Kilometers
1:150,000

GEODETIC INFORMATION

Coordinate System: GCS PRS 1992
Map Datum: Philippine Reference System 1992
Angular Unit: Degree

Notes:
The following platforms were used to generate this map:

Date Generated: May. 12, 2025
Paper Size: ISOA3(29.7cm x 42.0cm)
Prepared By:
Approved By:

Map Title:

Municipality of Maramag

Bukidnon, Region X, Philippines

Visit our website at **www.JunLaSys.com** and social media accounts for more information:

Generated By:

Province of Bukidnon

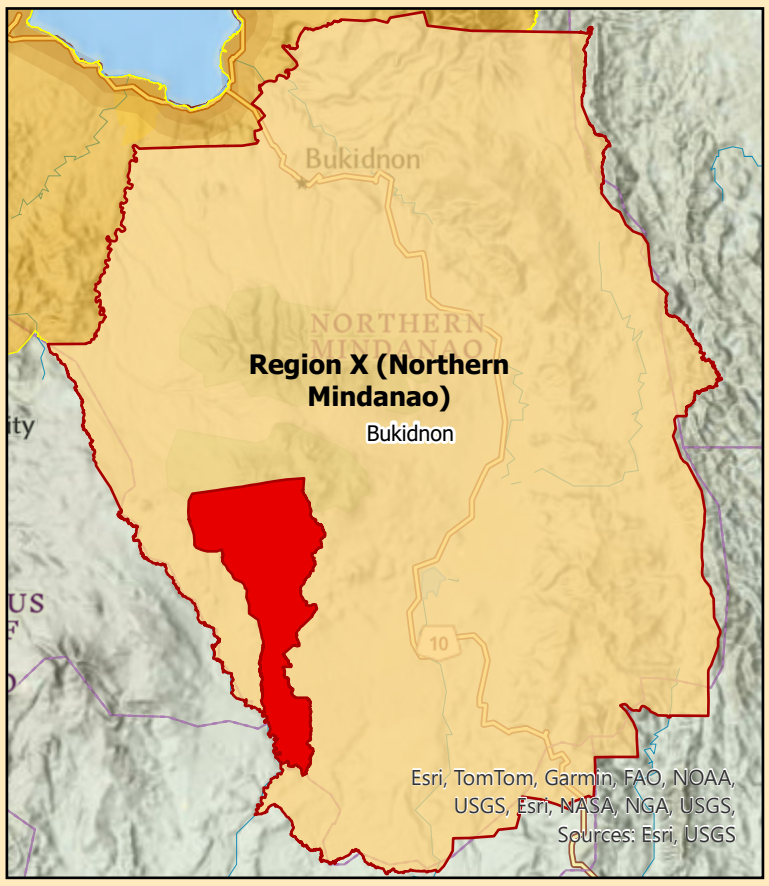

Region X (Northern Mindanao)

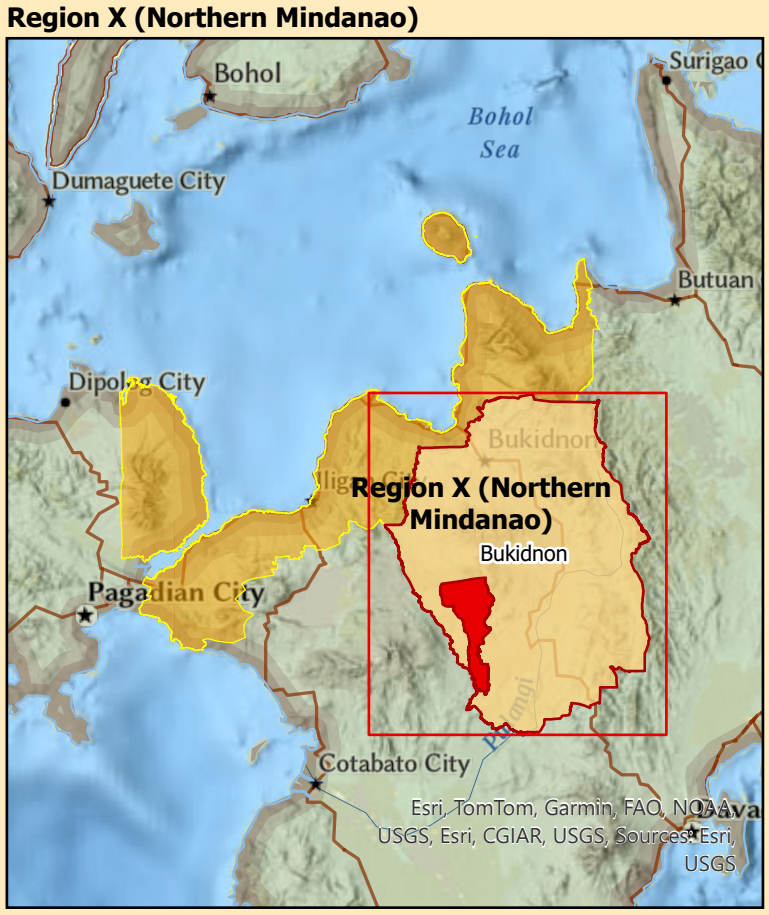

The Philippines

Municipality of Pangantucan

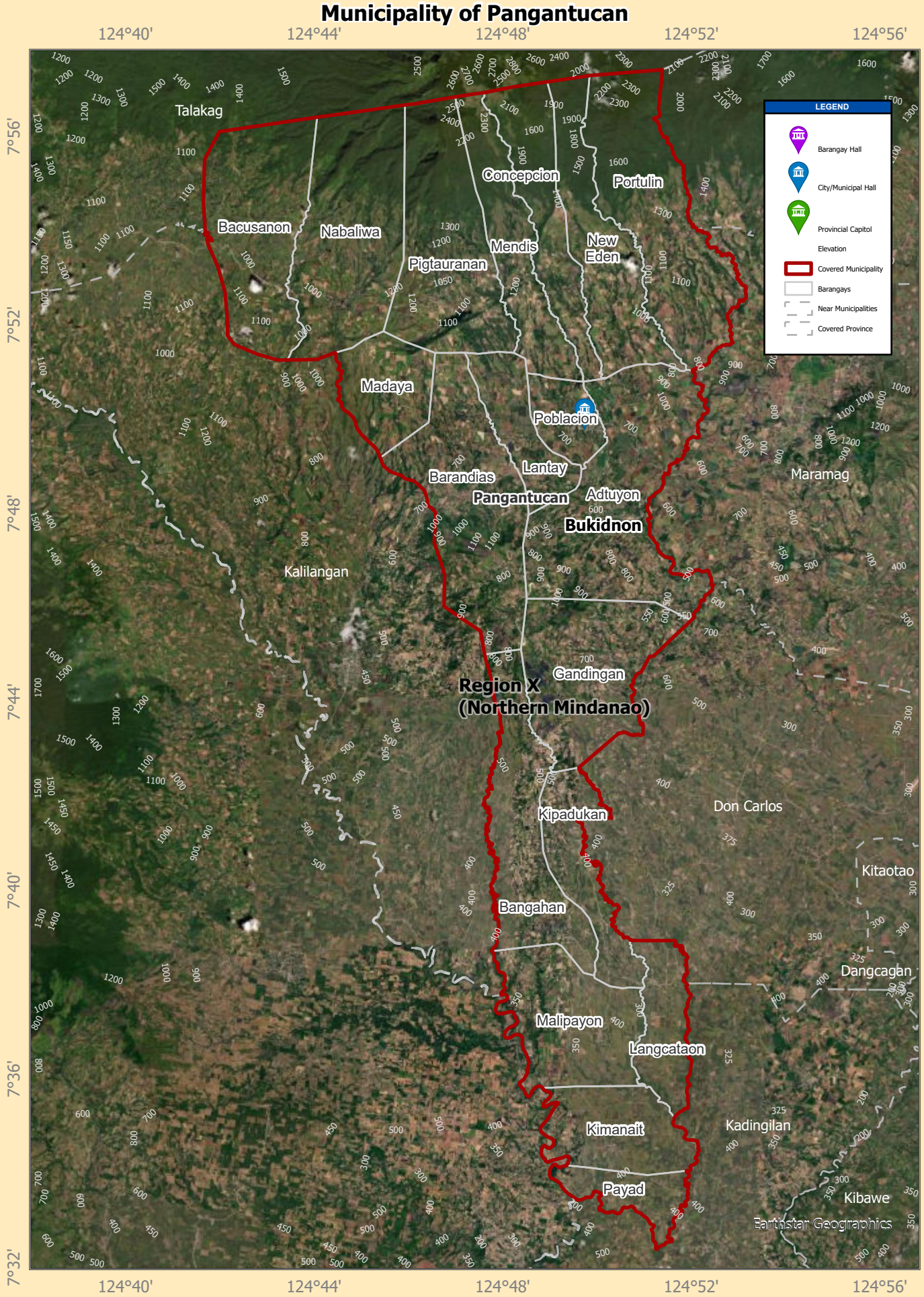

DEMOGRAPHICS:

SOURCES: Census-2020 by NSO and NSC Board.

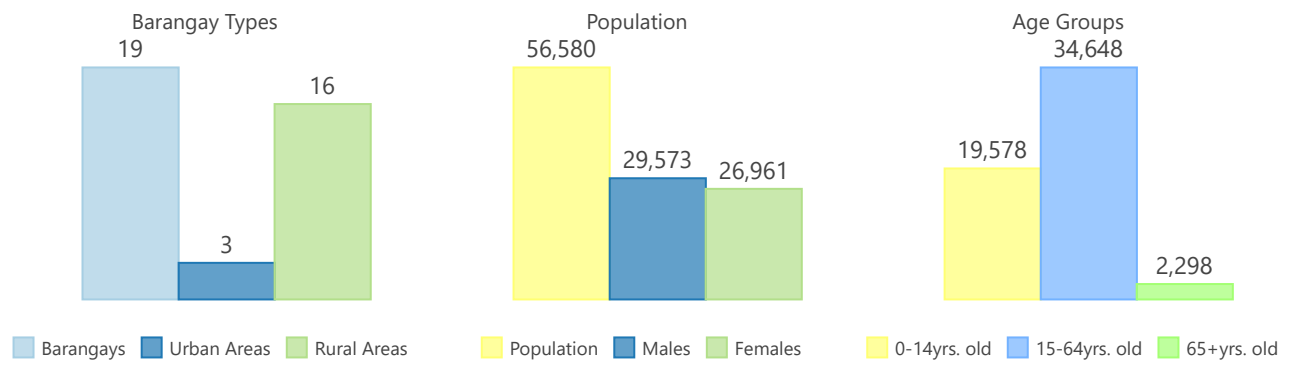

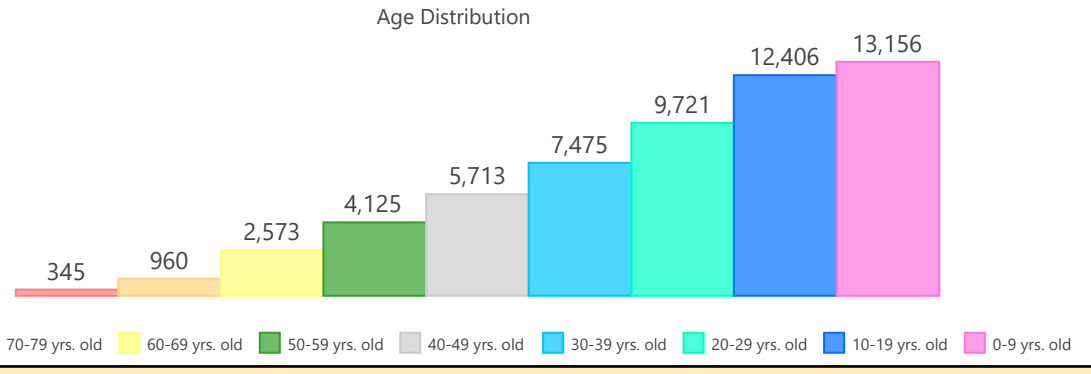

0.650 1.3 2.6 3.9 5.2
Kilometers
1:200,000

GEODETIC INFORMATION
Coordinate System: GCS PRS 1992
Map Datum: Philippine Reference System 1992
Angular Unit: Degree

Notes:
The following platforms were used to generate this map:

Date Generated: May. 12, 2025
Paper Size: ISOA3(29.7cm x 42.0cm)
Prepared By:
Approved By:

Map Title:

Pangantucan

Bukidnon, Region X, Philippines

Visit our website at **www.JunLaSys.com** and social media accounts for more information:

Generated By:

Province of Bukidnon

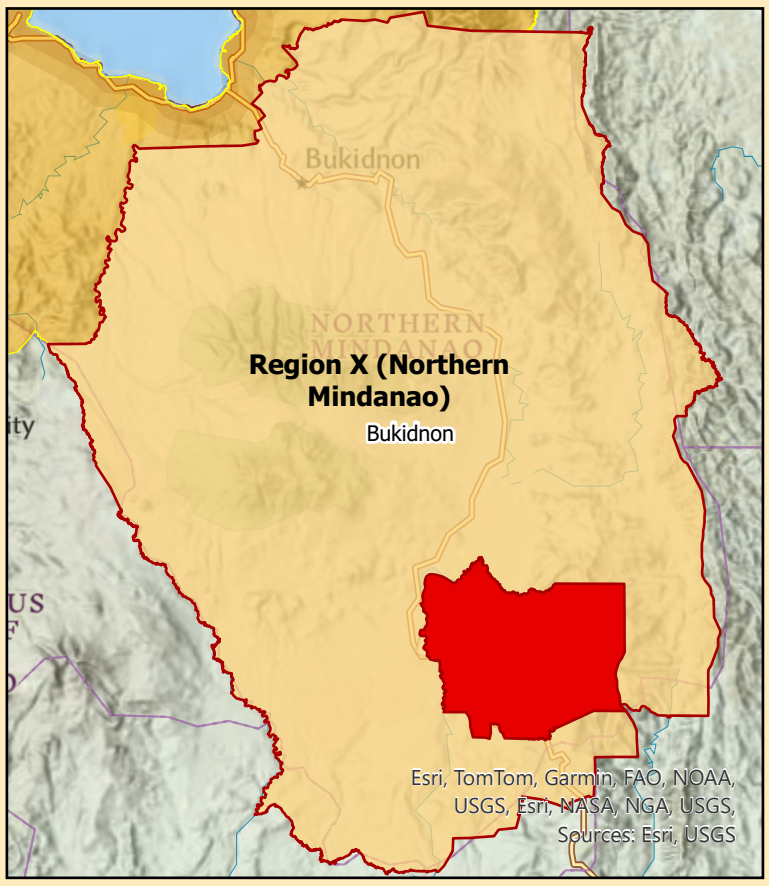

Region X (Northern Mindanao)

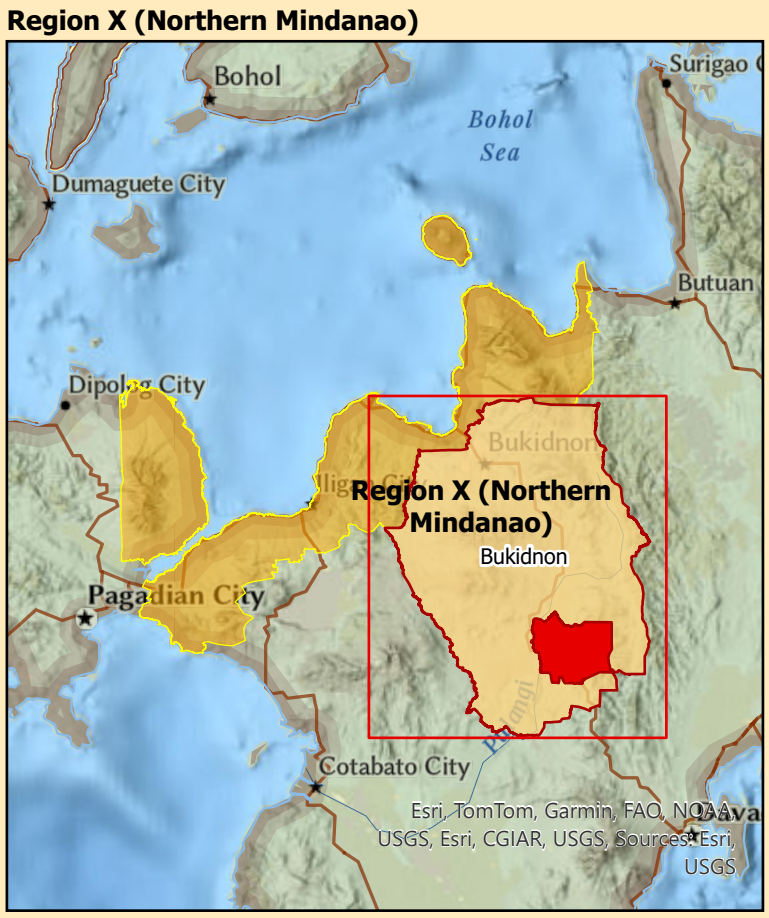

The Philippines

Municipality of Quezon

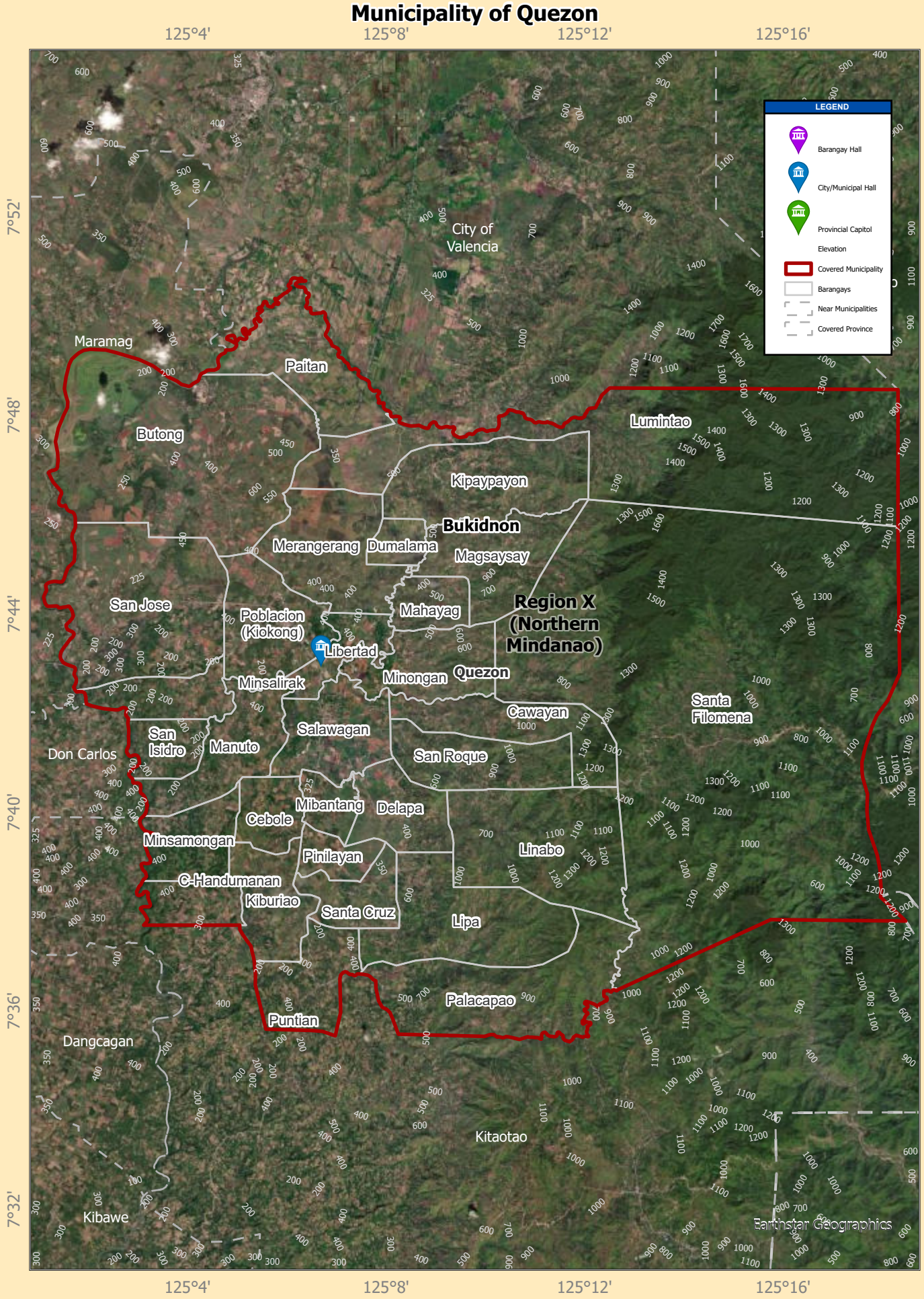

DEMOGRAPHICS:

SOURCES: Census-2020 by NSO and NSC Board.

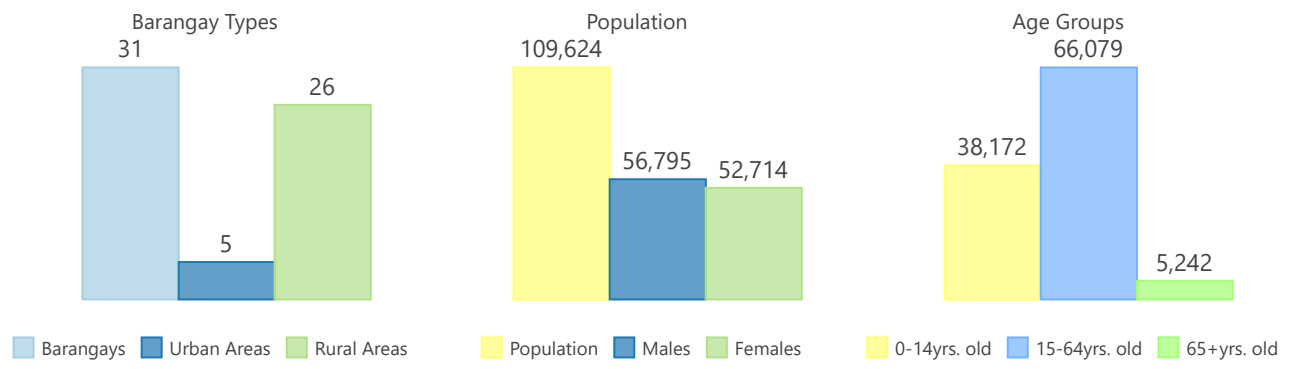

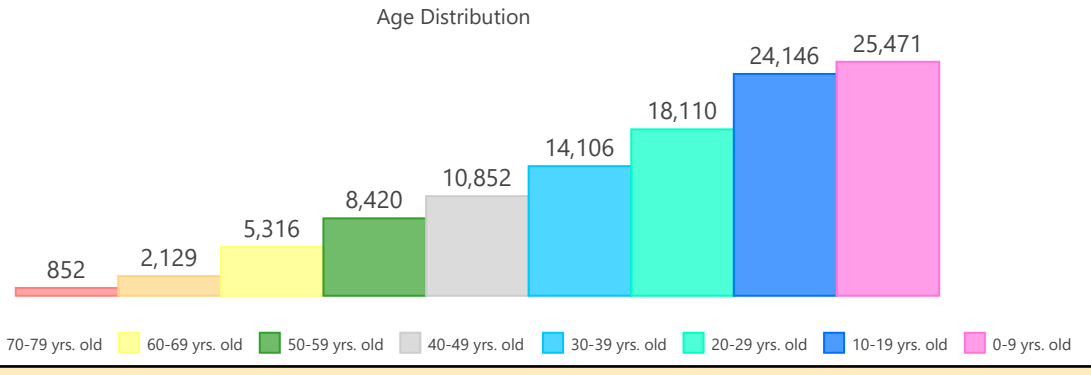

1.25 0.63 0 1.25 2.5 3.75 5
Kilometers
1:190,000

GEODETIC INFORMATION
Coordinate System: GCS PRS 1992
Map Datum: Philippine Reference System 1992
Angular Unit: Degree

Notes:
The following platforms were used to generate this map:

Date Generated: May. 12, 2025
Paper Size: ISOA3(29.7cm x 42.0cm)
Prepared By:
Approved By:

Map Title:

Municipality of Quezon

Bukidnon, Region X, Philippines

Visit our website at **www.JunLaSys.com** and social media accounts for more information:

Generated By:

Province of Bukidnon

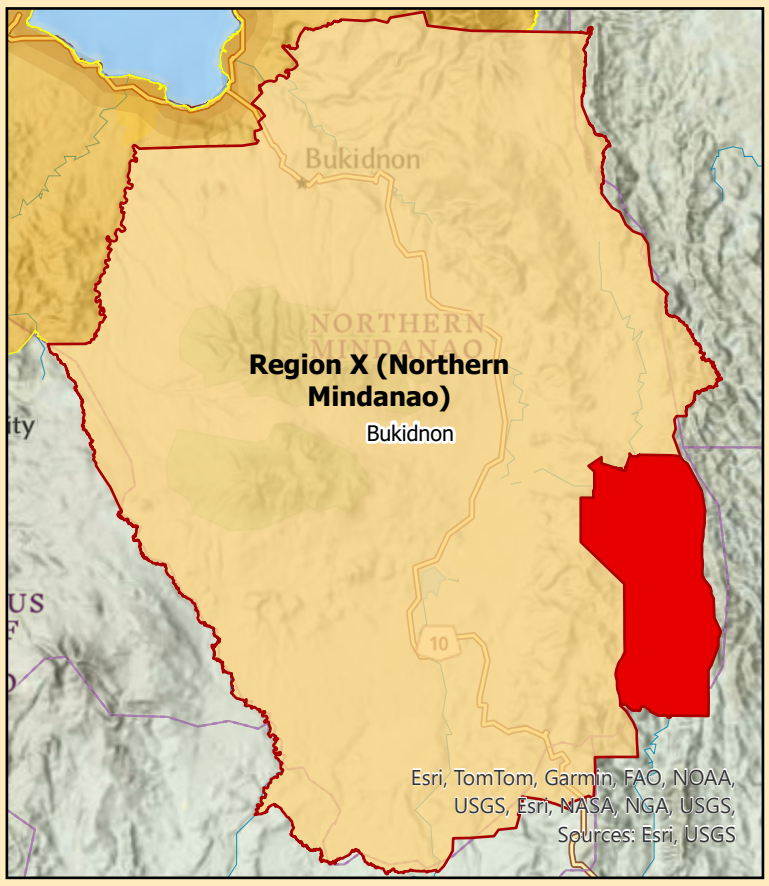

Region X (Northern Mindanao)

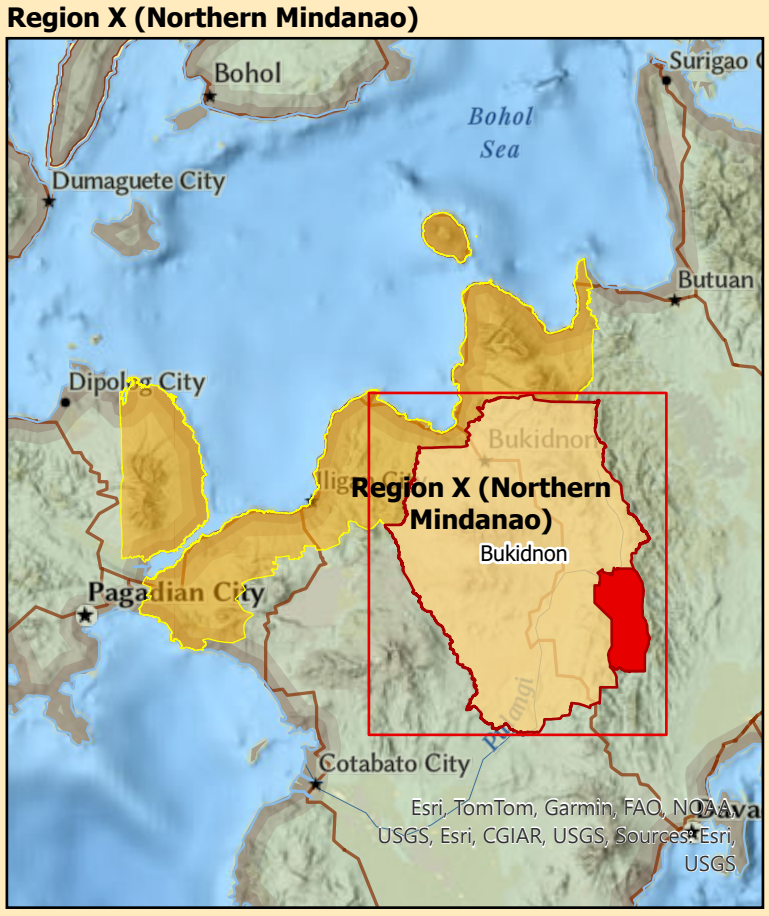

Municipality of San Fernando

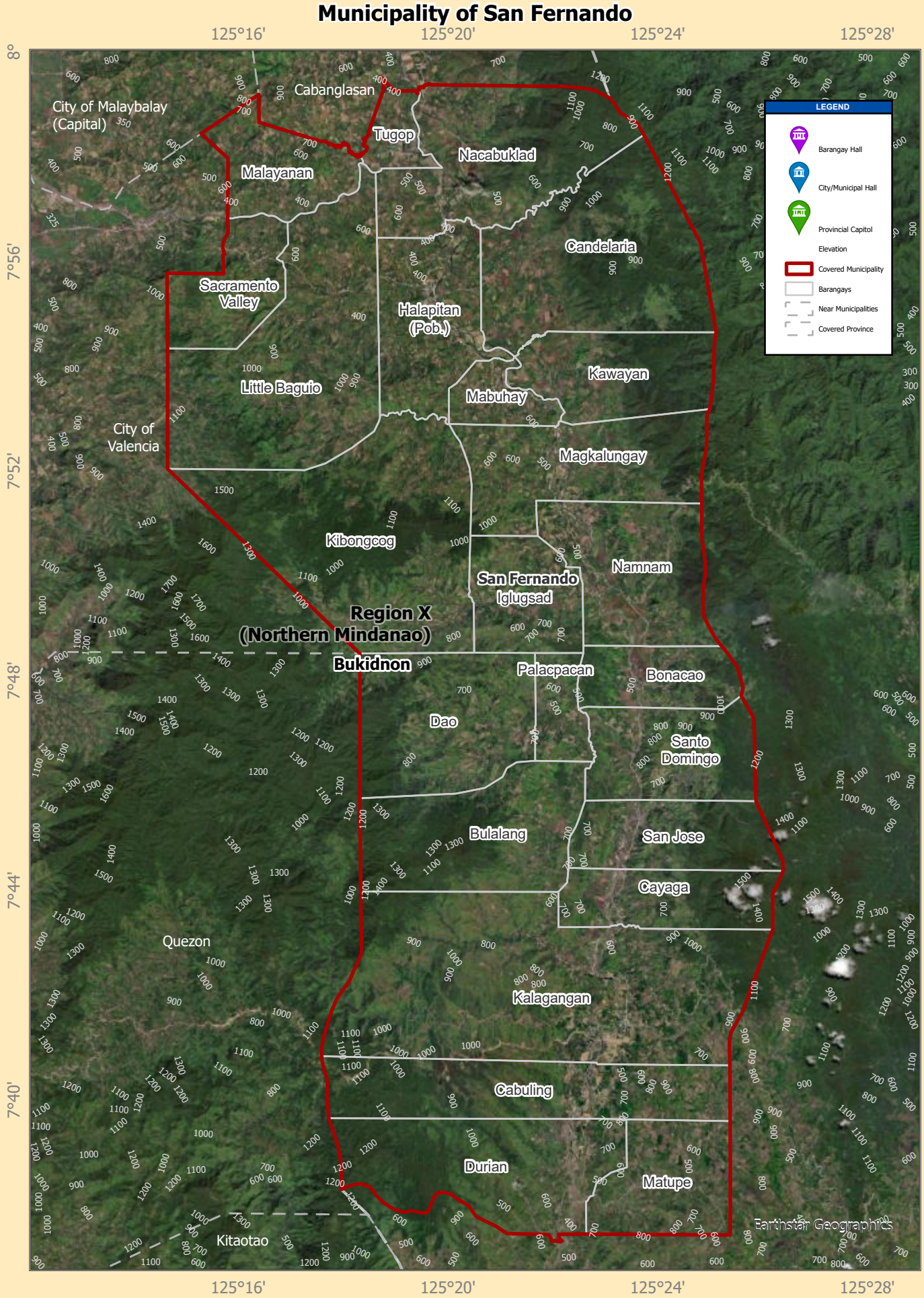

The Philippines

DEMOGRAPHICS:

SOURCES: Census-2020 by NSO and NSC Board.

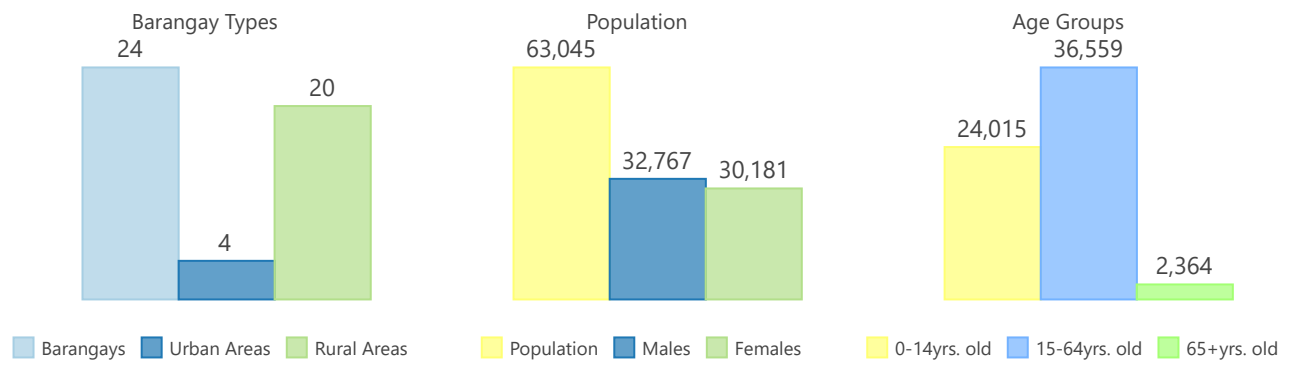

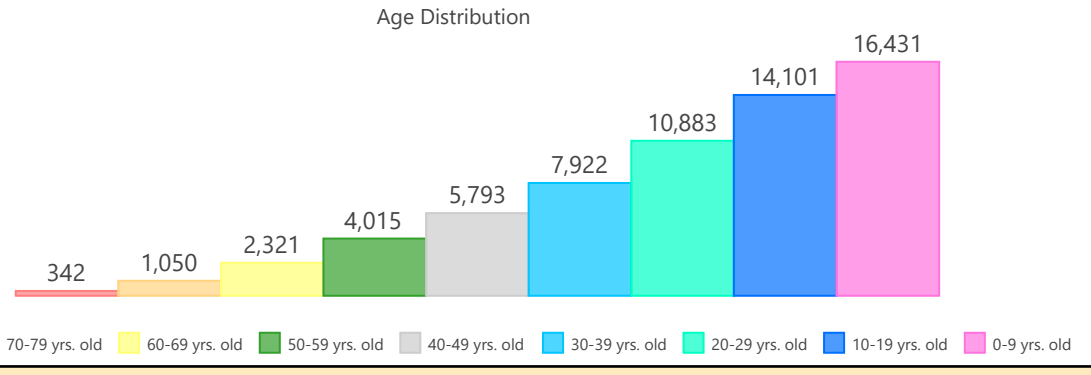

1.2 0.6 0 1.2 2.4 3.6 4.8
Kilometers
1:180,000

GEODETIC INFORMATION
Coordinate System: GCS PRS 1992
Map Datum: Philippine Reference System 1992
Angular Unit: Degree

Notes:
The following platforms were used to generate this map:

Date Generated: May. 12, 2025
Paper Size: ISOA3(29.7cm x 42.0cm)
Prepared By:
Approved By:

Map Title:

San Fernando

Bukidnon, Region X, Philippines

Visit our website at **www.JunLaSys.com** and social media accounts for more information:

Generated By: